UIDAI Hackathon: Data Analysis & Insights

Submission date: 20-01-2025

Project Documentation

1. Problem Statement Identification

The current Aadhaar infrastructure has a blind spot. Resources are allocated based on fixed population counts and ignore changes in behaviour.

- Inefficiency: High-tech districts have empty centers, wasting rent and staff. Citizens prefer online updates.
- Service Failure : Districts with heavy labour or climate stress experience high biometric failure rates .This leads to long queues that standard centers cannot manage. UIDAI lacks a system to determine which centers to shutdown or upgrade hardware at the same time.

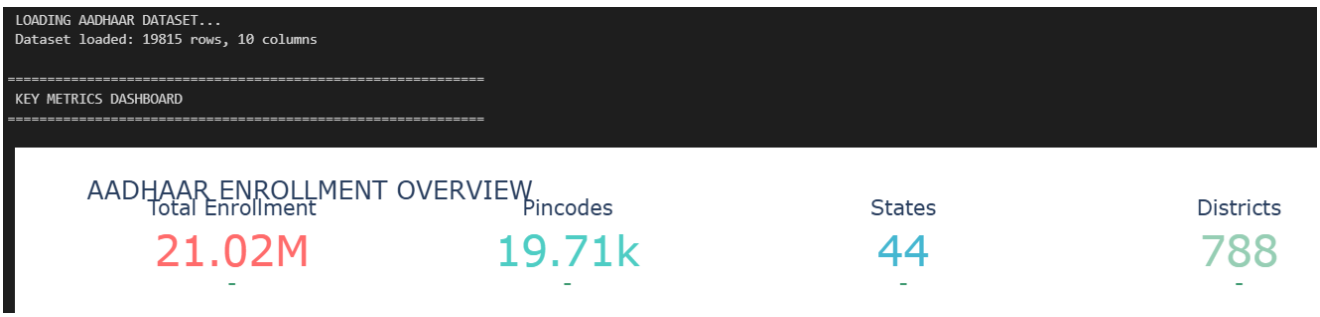

For this analysis, we have utilized three inter-connected datasets provided by UIDAI. These datasets offer a holistic view of the user lifecycle within the Aadhaar system.

Dataset Discription:

1. Demographic Dataset: Contains information regarding the age, gender, state, and district of the residents. This is crucial for understanding the user base's composition.

2. EnrollmentDataset: Records the details of successful and rejected Aadhaar applications, including the type of agency involved and the timestamp of the enrollment.

3. Biometric Dataset: Focuses on the success rates of fingerprints, iris scans, and facial recognition updates, categorized by age group and equipment used.

2. The Solution (The SmartGrid Concept)

We propose Aadhaar-SmartGrid, a real-time decision support system that improves service delivery with a dual-layer analytics engine:

- Layer 1 (The Flow Optimizer): Uses our Tech-Savvy Score to categorize districts into Digital-First (Online Focus) and Physical-First (Center Focus) zones. This addresses the allocation issue.
- Layer 2 (The Biometric Health Monitor): Identifies biometric stress zones, places where bio_age_17 updates happen unusually often. This indicates biometric aging due to manual labour or environmental factors. It recommends using specialized high-resolution scanners instead of standard kits.

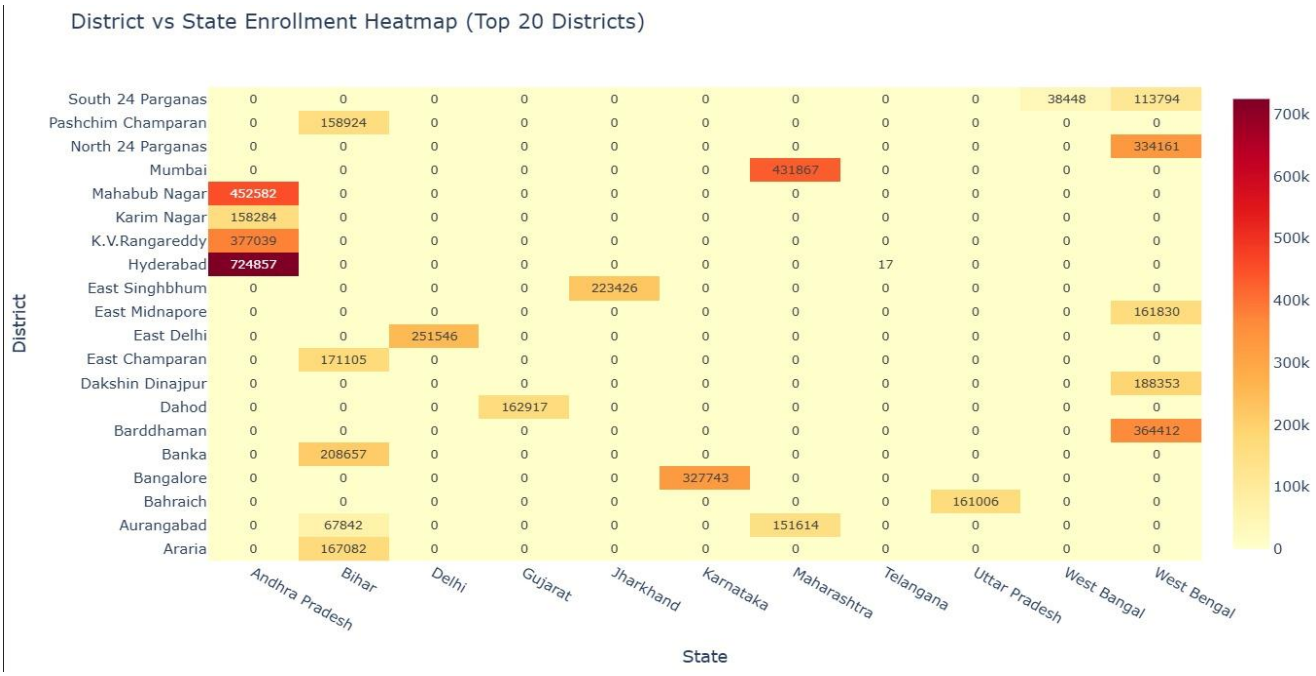

3. Key Data Insights (Evidence)

The Digital Efficiency Gap: According to our analysis, Ananthapuramu depends 93% on physical services, whereas Pherzawl (Manipur) operates at 83% digital efficiency. It is not possible to create a budget that works for everyone.

The Biometric Decay Signal: We found stress clusters (e.g., Raigarh, Chhattisgarh) where biometric updates exceed demographic updates by 70 to 1. This isn't due to population growth, but rather biometric degradation that requires interference, not just more desks.

Future-Proofing: Our model can forecast service crashes three to five years in advance for

required biometric updates (MBU) by connecting age_0_5 (newborn) density with current center capacity.

4. Technical Implementation

Core Logic: Two custom indices are created by compiling Pincode-level data using Python (Pandas):

1. D-Index (Digital Readiness): Total Updates/Online Updates

2. B-Index (Biometric Stress): Regular Bio-Updates and Population Density

- Predictive Engine: A Random Forest Regressor that forecasts wait times for the next quarter based on past age-group transitions.
- User Interface: A MERN-based command center dashboard that enables officials to view a map of India colored in accordance with required actions:
- Red Zone: Deployment of Mobile Vans (High Physical Demand).
- Yellow Zone: High Biometric Failure Hardware Upgrade.
- Green Zone: Promote App Usage (High Digital Literacy).

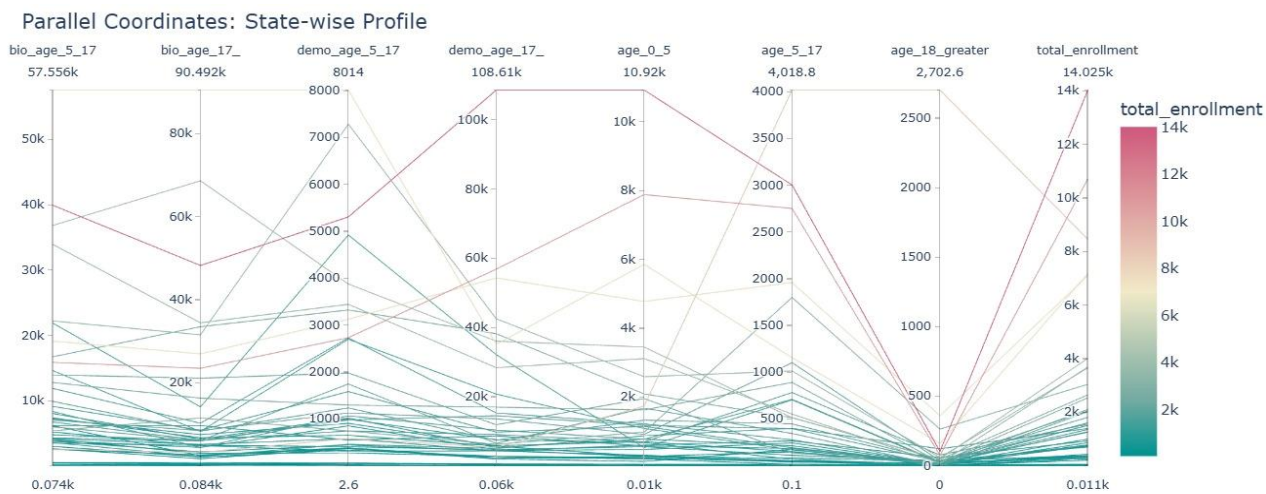

5. Social and Economic Impact

- Economic: Saves millions by closing unnecessary physical desks in green zones (Digital Leaders).
- Human-Centric: Targets yellow zones (labour/rural areas) with upgraded hardware, easing the frustration of failed authentication for daily wage workers.
- Proactive Governance: Changes UIDAI from reacting to complaints to preventing

queues.

6. Summary insight and statistical table:

```
============================================================
 SUMMARY STATISTICS & INSIGHTS
============================================================

 KEY INSIGHTS:
1.  Highest Enrollment: Andhra Pradesh
2.  Lowest Enrollment: Andaman and Nicobar Islands
3.   Largest Gap: K.V.Rangareddy (Andhra Pradesh)
4.  Average Bio/Demo Ratio: 10.45
5.  Children (0-17): 20,397,571
6.  Adults (18+): 622,946
7.  Total Gap (5-17): -97,944,752
8.  Coverage Efficiency: 619.7%


 SUMMARY STATISTICS TABLE:
```

	Metric	Value	Description
0	Total Enrollment	21,020,517	Total Aadhaar enrollments across all pincodes
1	Average per Pincode	1,067	Average enrollment per pincode
2	Max in Pincode	136,320	Maximum enrollment in a single pincode
3	Min in Pincode	0	Minimum enrollment in a single pincode
4	States Covered	44	Number of states/UTs covered
5	Districts Covered	788	Number of districts covered
6	Bio Enrollment (5-17)	116,790,105	Total biometric enrollments (age 5-17)
7	Demo Enrollment (5-17)	18,845,353	Total demographic enrollments (age 5-17)
8	Gap (5-17)	-97,944,752	Difference between demo and bio (5-17)
9	Gap (17+)	36,296,884	Difference between demo and bio (17+)